515-40

SCALE: 1"- 60'

TRACT NO. 19621
IN THE CITY OF LOS ANGELES

SHEET 1 OF 4 SHEETS

Being a subdivision of a portion of lot 826, Sheet 15, Tract No. 1000 as shown on map thereof recorded in Book 19, page 15 of Maps, Records of Los Angeles County, California

Jennings Engineering Co. Engineer

BASIS OF BEARINGS
The bearing N. 89°58'35"E. of the center line of Saticoy Street, as shown on map of Tract No. 15086, M.B. 403, 32-34 was taken as the basis of the bearings shown on this map.

June 4, 1954
14 4P.M
515
40

5.00

We hereby certify that we are the owners of, or are interested in the land included within the subdivision shown on the annexed map, and we consent to the preparation of, and recordation of said map and subdivision as shown within the colored border lines, and we hereby dedicate to the public use the Streets, Avenues, Walk, and Alleys shown on said map within said subdivision, and also grant and dedicate to the City of Los Angeles, easements for public utility, drainage and sanitary sewer purposes over the strips of land so designated on said map and we hereby dedicate for public use for street purposes lots 151 to 158 inclusive, designated as Future Streets on said map within said subdivision, reserving to ourselves for the use of ourselves and successive owners of said lots any and all ordinary uses of said lots except for access purposes and the erection or construction of buildings thereon until such time as the legislative body shall accept the same for street purposes. As a dedication to public use, while all of Saticoy Street and Winnetka Avenue within ~~and adjacent to~~ this subdivision remain public highways, and for such time only, we hereby abandon all rights of vehicular ingress and egrees from lots 1 to 29 inclusive ~~and to inclusive~~, to the said Street and Avenue so that the owners of said lots abutting these highways, during such time as said lots remain in a residential zone, will have no right of vehicular access whatever in the highways as such except the general easement of travel which belongs to the whole public. If any change of alignment or width of such highways results in the vacation of any part thereof within this subdivision, such vacation terminates the above dedication as to the part vacated. We also hereby dedicate for public use for alley purposes those certain strips of land designated as Future Alleys, on said map within said subdivision, reserving to ourselves for the use of ourselves and successive owners of the respective lots of which said future alleys are a part, any and all ordinary uses of said land except the erection or construction of buildings thereon, until such time as the legislative body shall accept the same for alley purposes.

WESTMINSTER HOMES, INC.

Norman L Stern
Secretary

Melvin Hirsh
President

TITLE INSURANCE AND TRUST COMPANY (trustee) under deeds of trust recorded March 29, 1954 as instrument No. 1164 and 1165

Assistant Secretary

Vice President

TITLE INSURANCE AND TRUST COMPANY (Easement Holder) by deed recorded in book 6136, page 198 of Deeds.

Assistant Secretary

Vice President

TITLE INSURANCE AND TRUST COMPANY (Trustee) under deed of trust recorded in book 38944 page 385 Official Records

Vice President

Assistant Secretary

Thomas C. Daily
Aileen D. Daily
Milton F. Daily
Margaret M. Daily

Owners and Owners of certain oil, gas, and hydrocarbon substances excepted in deed recorded March 29, 1954 as instrument No. 1163.

State of California
County of Los Angeles } ss
On this 14 day of April 1954, before me Shirley T. Godfrey a Notary Public in and for said county, personally appeared Melvin Hirsh, known to me to be the President and Norman L. Stern, known to me to be the Secretary of Westminster Homes, Inc., the corporation that executed the within instrument and known to me to be the persons who executed the within instrument on behalf of the corporation therein named and acknowledged to me that such corporation executed the same.

Shirley T. Godfrey
Notary Public
My commission expires Oct. 6, 1957

State of California
County of Los Angeles } ss
On this 4th day of May 1954, before me the UNDERSIGNED Notary Public in and for said County, personally appeared CLAIRE CROMMETT known to me to be the Vice President, and P.E. MARTIN known to me to be the Assistant Secretary of Title Insurance and Trust Company, the corporation that executed the within instrument and known to me to be the persons who executed the within instrument on behalf of the corporation therein named and acknowledged to me that said corporation executed the same as trustee.

Betty L. Peterson
Notary Public
My commission expires Sept 27, 1957

I HEREBY CERTIFY THAT THERE IS ON FILE IN THE OFFICE OF THE CITY ENGINEER OF THE CITY OF LOS ANGELES COUNTY OF LOS ANGELES, STATE OF CALIFORNIA, A CERTIFICATE MADE BY THE Title Insurance and Trust Company OF SAID CITY, ORDER NO. 4026681 DATED May 21 1954 CERTIFYING THAT IT APPEARS FROM THE RECORDS OF SAID CITY AND COUNTY THAT Westminster Homes, Inc., Title Insurance and Trust Company, The Pacific Telephone and Telegraph Company, Thomas C. Daily, Aileen D. Daily, Milton F. Daily, Margaret M. Daily

(~~HE~~) (ARE) THE ONLY PERSONS WHOSE CONSENT IS REQUIRED FOR THE RECORDING OF THIS MAP BY LAW.

CITY ENGINEER LLOYD ALDRICH
DATE May 28 1954

Ryall A Pardee
Deputy

State of California
County of Los Angeles } ss
On this 4th day of May 1954, before me the UNDERSIGNED Notary Public in and for said county, personally appeared CLAIRE CROMMETT known to me to be the Vice President, and P.E. MILLETT known to me to be the Assistant Secretary of Title Insurance and Trust Company, the corporation that executed the within instrument and known to me to be the persons who executed the within instrument on behalf of the corporation therein named and acknowledged to me that said corporation executed the same.

Betty L. Peterson
Notary Public
My commission expires Sept 27 1957

I HEREBY CERTIFY THAT I HAVE EXAMINED THIS MAP AND THAT THE SUBDIVISION AS SHOWN HEREON IS SUBSTANTIALLY THE SAME AS IT APPEARED ON THE TENTATIVE MAP AND ANY APPROVED ALTERATIONS THEREOF; THAT ALL PROVISIONS OF CHAPTER 128 STATUTES OF 1943 AS AMENDED STATE OF CALIFORNIA AND OF ALL LOCAL ORDINANCES APPLICABLE AND IN EFFECT AT THE TIME OF THE APPROVAL OF THE TENTATIVE MAP HAVE BEEN COMPLIED WITH AND I AM SATISFIED THAT THIS MAP IS TECHNICALLY CORRECT.

CITY ENGINEER LLOYD ALDRICH
DATE May 28 1954

Ryall A Pardee
Deputy

I HEREBY CERTIFY THAT ALL SPECIAL ASSESSMENTS OF WHICH I AM IN CHARGE, TO WHICH THE LAND INCLUDED IN THE WITHIN SUBDIVISION OR ANY PART THEREOF IS SUBJECT AND WHICH MAY BE PAID IN FULL, HAVE BEEN PAID IN FULL.

Acting Director, Bureau of Assessments, G. J. ARTARIAN
Date May 19, 1954 Deputy

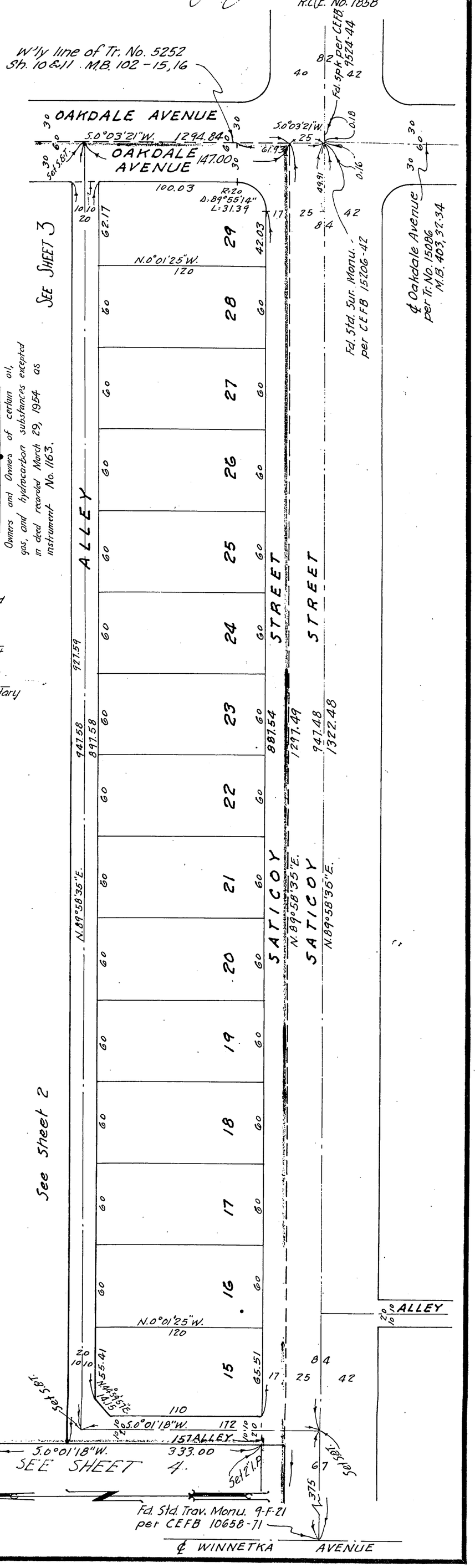
I HEREBY CERTIFY THAT THE CITY COUNCIL OF THE CITY OF LOS ANGELES APPROVED THE ATTACHED MAP AND ACCEPTED ON BEHALF OF THE PUBLIC ALL THE STREETS, ROADS, ALLEYS, HIGHWAYS, EASEMENTS AND ABANDONMENT OF INGRESS AND EGRESS RIGHTS SHOWN ON SAID MAP AND THEREIN OFFERED FOR DEDICATION EXCEPT THOSE STRIPS MARKED "FUTURE STREET" AND "FUTURE ALLEY" PROVIDED THAT NOTHING HEREIN CONTAINED SHALL BE CONSTRUED AS AN ACCEPTANCE OF ANY IMPROVEMENTS MADE IN OR UPON ANY STREET, ROAD, ALLEY, HIGHWAY OR EASEMENT SHOWN ON THIS MAP.

DATE June 3 1954

WALTER C. PETERSON, City Clerk
By
Deputy

I, G. J. Jennings, hereby certify that I am a Registered Civil Engineer of the State of California, and that this map, consisting of 4 sheets, correctly represents a survey made under my supervision February 1954, that the survey is true and complete as shown, that the monuments shown hereon actually exist or will be in place not later than March 1, 1955, that their positions and character are correctly shown, and that said monuments are sufficient to enable the survey to be retraced.

G. J. Jennings
R.C.E. No. 7858

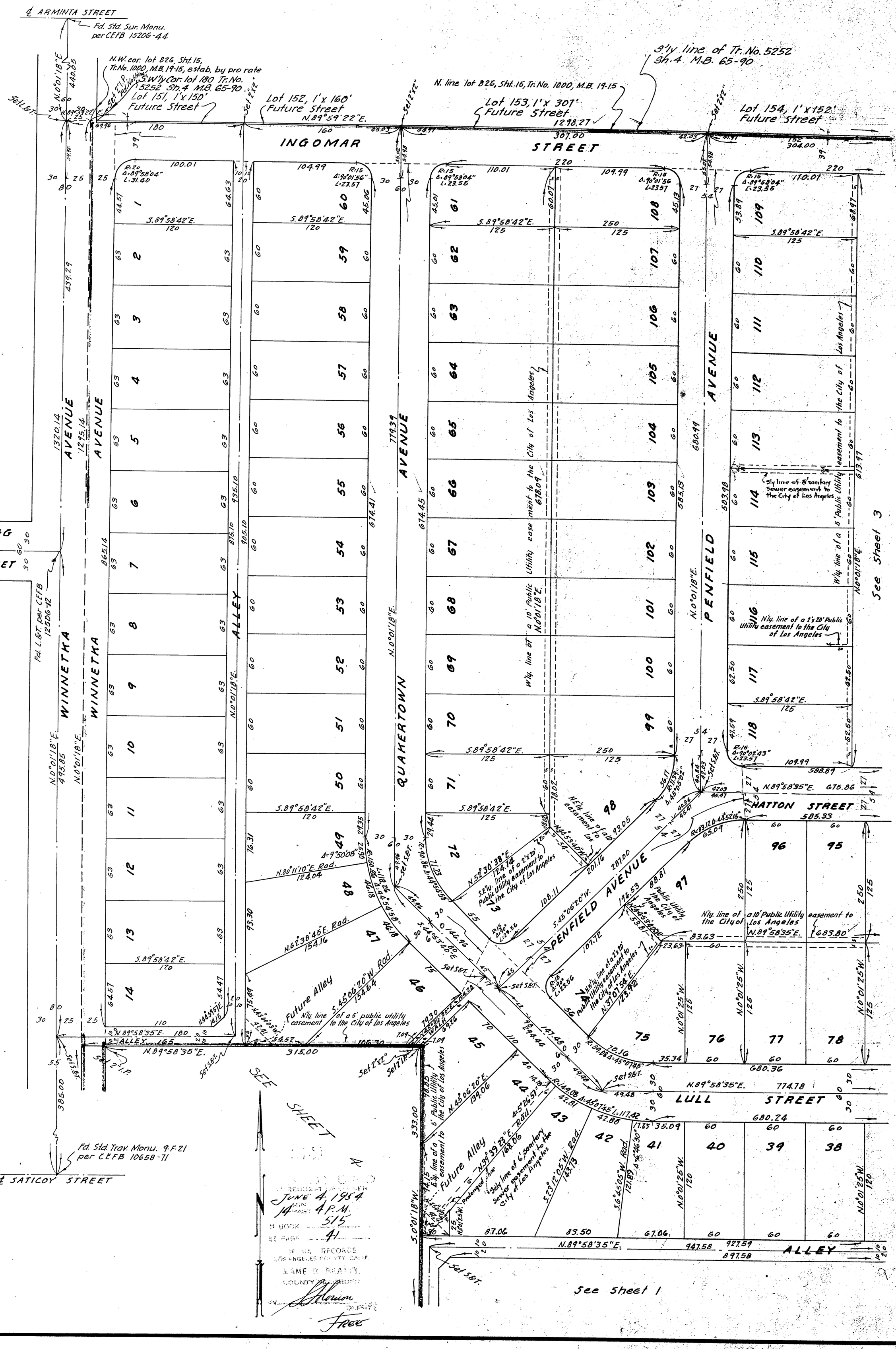


515-41

SCALE: 1"- 60'

TRACT NO. 19621
IN THE CITY OF LOS ANGELES

SHEET 2 OF 4 SHEETS



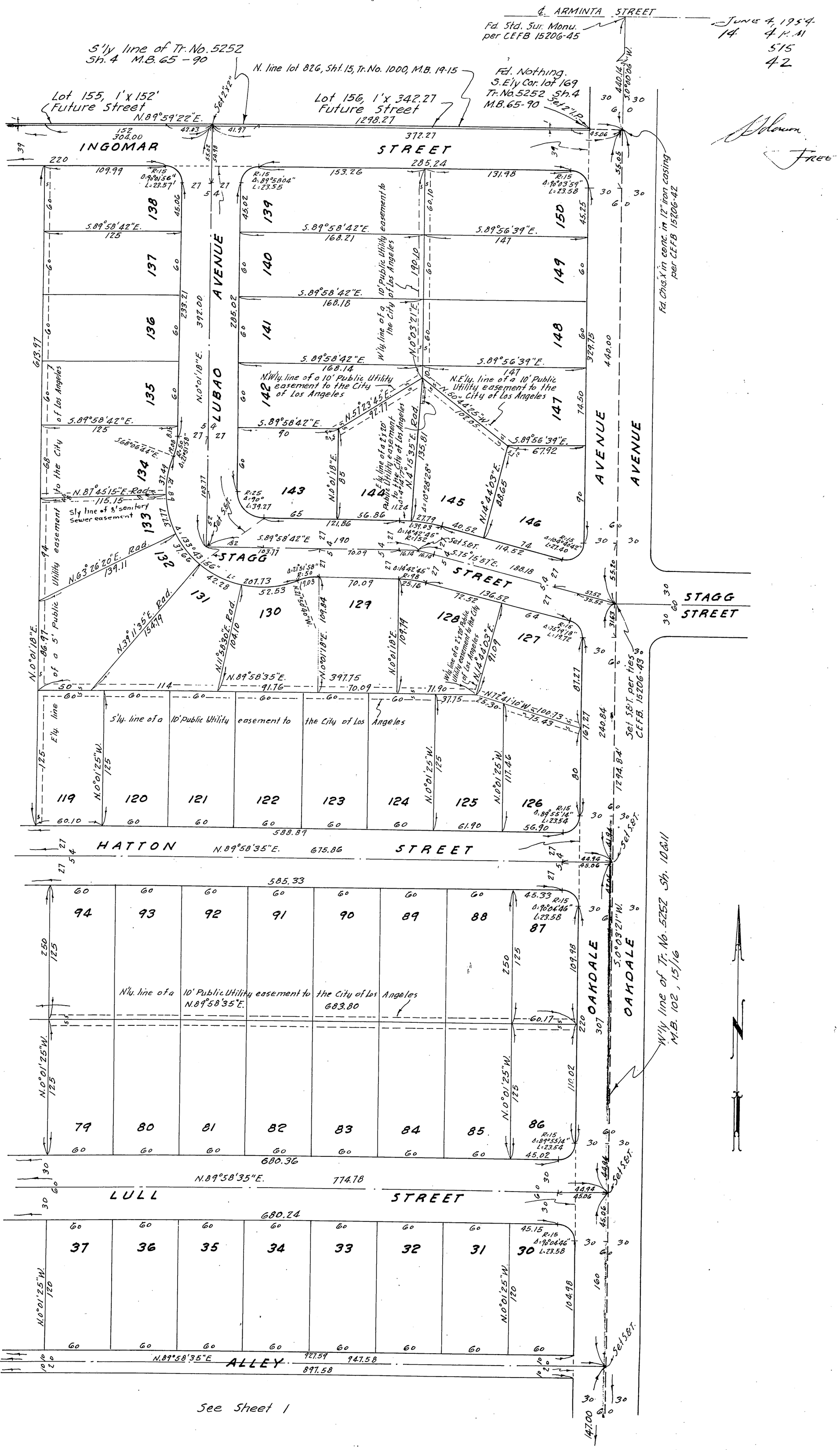
RECORDED
JUNE 4 1954
AT 4 P.M.
IN BOOK 515
AT PAGE 41
OF M.R. RECORDS
LOS ANGELES COUNTY, CALIF.
RAMEY BEATTY
COUNTY RECORDER
By J. Marion DEPUTY
Fee

515-42

SCALE: 1"- 60'

TRACT NO. 19621
IN THE CITY OF LOS ANGELES

SHEET 3 OF 4 SHEETS



515-43 Free

515-43

SCALE: 1" - 60'

TRACT NO. 19621
IN THE CITY OF LOS ANGELES

SHEET 4 OF 4 SHEETS

The Pacific Telephone and Telegraph Company, a corporation, as the owner of an easement recorded in Book 41552, Page 178, of Official Records of the County of Los Angeles, State of California, does hereby consent to the preparation and recordation of the annexed map and subdivision, and to the dedications shown hereon, subject to the aforesaid easement.

THE PACIFIC TELEPHONE AND TELEGRAPH COMPANY

By P.L. Johnson
General Plant Manager

By Jom. Callen
Assistant Secretary

State of California } ss
County of Los Angeles }

On this 12 day of May 1954, before me, W.W. KEARNEY a Notary Public, in and for said County and State, personally appeared P.L. JOHNSON known to me to be the General Plant Manager, and S.W. McCALLEN known to me to be the Assistant Secretary of The Pacific Telephone and Telegraph Company, the corporation that executed the within instrument and known to me to be the persons who executed the within instrument, on behalf of the corporation therein named, and acknowledged to me that such corporation executed the same.

In witness whereof I have hereunto set my hand and affixed my official seal the date and year in this certificate first above written.

W.W. Kearney
Notary Public in and for said County and State
My commission expires January 14, 1957

State of California } ss
County of Los Angeles }

On this 12th day of May 1954, before me the undersigned a Notary Public in and for said County, personally appeared E.H. Boothe, Jr. known to me to be the Vice President, and L.W. Fessler known to me to be the Assistant Secretary of Title Insurance and Trust Company, the corporation that executed the within instrument and known to me to be the persons who executed the within instrument on behalf of the corporation therein named, and acknowledged to me that said corporation executed the same as trustee.

Betty L Peterson
Notary Public
My commission expires Sept. 27, 1957

State of California } ss
County of Ventura }

On this 22nd day of April 1954, before me, John H. Todd a Notary Public in and for said County, personally appeared Thomas C. Daily, Aileen D. Daily, Milton F. Daily and Margaret M. Daily, known to me to be the persons whose names are subscribed to the within instrument and acknowledged to me that they executed the same, as owners and as owners of certain oil, gas and hydrocarbon substances

John H Todd
Notary Public
My commission expires December 26, 1954

I hereby certify that a good and sufficient bond in the sum of $ 3,275.00 duly approved by the Board of Supervisors of the County of Los Angeles, has been filed with said Board as security for the payment of taxes and special assessments collected as taxes on land shown on map of Tract No. 19621 as required by law.

Harold J. Ostly, County Clerk and Ex-officio Clerk of the Board of Supervisors of the County of Los Angeles, State of California.

By Inez Robinson Deputy

Approved June 4, 1954
WILLIAM J. FOX, County Surveyor
By Ralph R. Kennedy Deputy

RECORDED
June 4, 1954
14 4 P.M.
IN BOOK 515
AT PAGE 43
OF RECORDS
LOS ANGELES COUNTY
HARRY A. BRETT
COUNTY RECORDER

Free

